



What's New

Providers

Developers

Contributors

Developers Map

Translators

Donors

License

QGIS version	3.36.2 Maidenhead	QGIS code revision	6d250527200
Qt version	5.15.13		
Python version	3.12.3		
GDAL/OGR version	3.8.4		
PROJ version	9.4.0		
EPSG Registry database version	v11.004 (2024-02-24)		
GEOS version	3.12.1-CAPI-1.18.1		
SQLite version	3.45.1		
PostgreSQL client version	16.2 (Ubuntu 16.2-1ubuntu4)		
Spatialite version	5.1.0		
QWT version	6.1.4		
QScintilla2 version	2.14.1		
OS version	Ubuntu 24.04 LTS		

Active Python plugins

pg_raster_import	3.2.0
webmap_utilities	0.1
qgis-maptiler-plugin	3.3
processing_saga_nextgen	1.0.0
excel_sync	3.6
zoom_level	0.1
AppendFeaturesToLayer	2.0.0
qgisgbifapi	0.3.2
kart	1.0.14
OpenTopography-DEM-Downloader	2.0
ProjectPackager	0.7.2
ImportPhotos	3.0.6
plugin_reloader	0.9.4
quick_map_services	0.19.34

QGIS is licensed under the GNU General Public License

<https://www.gnu.org/licenses>

QGIS Home Page

Join our User Mailing List

Close

Layers

 test_layer

Browser Layers



Welcome back to QField.

QFieldCloud projects

Open local file

Recent Projects

The Recent Projects section displays three items:

- Test_proj_qfield.ggs (offline)**: Includes a thumbnail of a map with a red star and the text "Last session".
- Template**: Includes a thumbnail of a map with a green polygon.
- crop_monitoring_project.001**: Includes a thumbnail of a map with a red line.

Load last opened project on launch





AAA



ACC



ABB



100 km

X: -8,415,419.415

Y: 8,361,518.380

Altitude: N/A

Speed: 0.000 m/s

H. Accuracy: 25,000.000 m

V. Accuracy: N/A





AAA



ACC



ABB



100 km

X: -8,415,419.415

Y: 8,361,518.380

Altitude: N/A

Speed: 0.000 m/s

H. Accuracy: 25,000.000 m

V. Accuracy: N/A



Navigation and layer controls: back arrow, settings gear, cloud sync, layer list icon, and pencil edit icon. Below these is a green bar with the text "test_layer" and a red dot indicating the active layer.

AAA

ACC

ABB

Search and help icons: a magnifying glass and a speech bubble.

Map navigation controls: a plus sign for zoom in and a minus sign for zoom out.

- ←
- 🏠
- 📄
- 🔒
- ↶
- ↷
- 🖨️ Print to PDF
- 📶 Sensors
- 📁 Project Folder
- ⚙️ Settings
- 📜 Message Log
- ℹ️ About QField




Customize search bar



Show scale bar



Maximized attribute form 



Fixed scale navigation



When fixed scale navigation is active, focusing on a search result will pan to the feature. With fixed scale navigation disabled it will pan and zoom to the feature.

Show digitizing information



When switched on, coordinate information, such as latitude and longitude, is overlaid onto the map while digitizing new features or using the measure tool.

Show bookmarks



When switched on, user's saved and currently opened project bookmarks will be displayed on the map.

Fast editing mode



If enabled, the feature is stored after having a valid geometry and the constraints are fulfilled and attributes are committed immediately.

Consider mouse as a touchscreen device



If disabled, the mouse will act as a stylus pen.

Send anonymized metrics



If enabled, anonymized metrics will be collected and sent to help improve QField for everyone.

User interface appearance:

Dark theme



User interface font size:

Large



User interface language:

system




Customize search bar



Show scale bar



Maximized attribute form 



Fixed scale navigation



When fixed scale navigation is active, focusing on a search result will pan to the feature. With fixed scale navigation disabled it will pan and zoom to the feature.

Show digitizing information



When switched on, coordinate information, such as latitude and longitude, is overlaid onto the map while digitizing new features or using the measure tool.

Show bookmarks



When switched on, user's saved and currently opened project bookmarks will be displayed on the map.

Fast editing mode



If enabled, the feature is stored after having a valid geometry and the constraints are fulfilled and attributes are committed immediately.

Consider mouse as a touchscreen device



If disabled, the mouse will act as a stylus pen.

Send anonymized metrics



If enabled, anonymized metrics will be collected and sent to help improve QField for everyone.

User interface appearance:

Dark theme



User interface font size:

Large



User interface language:

system





100 km

X: -8,415,419.415

Y: 8,361,518.380

Altitude: N/A

Speed: 0.000 m/s

H. Accuracy: 25,000.000 m

V. Accuracy: N/A





Features



test_layer

ACC



ACC



AAA-Modified



100 km

X: -8,415,419.415

Y: 8,361,518.380

Altitude: N/A

Speed: 0.00



ACC



id

3

test_field


ACC

testfield3

3

testfield2

3,14





ACC



id

3



test_field

ACC-Modified



testfield3

3



testfield2

3.14



ACC



AAA-Modified



100 km

X: -8,415,419.415

Y: 8,361,518.380

Altitude: N/A

Speed: 0.00



test_layer

ACC-Modified



ACC-Mo



AAA-Modified



100 km

X: -8,415,419.415

Y: 8,361,518.380

Altitude: N/A

Speed: 0.00



AAA-Modified

ACC-Modified

ABB

100 km

X: -8,415,419.415

Y: 8,361,518.380

Altitude: N/A

Speed: 0.000 m/s

H. Accuracy: 25,000.000 m

V. Accuracy: N/A





Features



test_layer

ABB



ACC-Mo



AAA-Modified



100 km

X: -8,415,419.415

Y: 8,361,518.380

Altitude: N/A

Speed: 0.00



ABB



id

2

test_field

ABB

testfield3

2

testfield2

2.23

ACC-Mo



AAA-Modified



100 km

X: -8,415,419.415

Y: 8,361,518.380

Altitude: N/A

Speed: 0.00



AAA-Modified



ACC-Mo



100 km



X: -8,415,419.415

Y: 8,361,518.380

Altitude: N/A

Speed: 0.00



ABB



id

2

test_field

ABB

testfield3

2

testfield2

2.23



ABB



id

2



test_field

ABB-Modified



testfield3

2



testfield2

2.23



ACC-Mo



AAA-Modified



100 km

X: -8,415,419.415

Y: 8,361,518.380

Altitude: N/A

Speed: 0.00



Features



test_layer

ABB-Modified



AAA-Modified



ACC-Modified

100 km

X: -8,415,419.415

Y: 8,361,518.380

Altitude: N/A

Speed: 0.00



AAA-Modified



ACC-Modified



ABB-Modified



100 km

X: -8,415,419.415

Y: 8,361,518.380

Altitude: N/A

Speed: 0.000 m/s

H. Accuracy: 25,000.000 m

V. Accuracy: N/A





Print to PDF

Sensors

Project Folder

Settings

Message Log

About QField





QField
3.2.2 - Congo ([72be17](#) v3.2.2)
Qt 6.6.2



ABB-Modified



ACC-Modified



AAA-Modified



OPENGIS.ch
Developed by
[OPENGIS.ch](#)

QField app directory
/home/seqlaz/Documents/QField/

♥ Support QField

📖 Documentation